Indoor maps for wayfinding applications & Simple Indoor Tagging in OpenStreetMap

James Chapman
Fort Hays State University
jachapman3@mail.fhsu.edu

Mentor: Dr. Vinod Namboodiri
Department of Electrical Engineering and Computer Science
Wichita State University
vinod.namboodiri@wichita.edu

***Abstract*- The**

I. Introduction

Society has come to heavily rely on modern GPS navigation. It is incredibly useful for electronics to identify the current location and instruct users to a desired destination. This is only made possible by the level of detail in current maps. Although map data has been adequate for many applications, there The level of detail of maps has always been increasing and will continue to increase.

The future of mapping is faced with mapping indoor spaces. There is a vast need for indoor mapping and there are many applications that could benefit from adequate coverage. For example, airport travelers will be able to find a list of the nearby shops and restaurants, as well as how to get there.

People with disabilities, such as mobility impairments and vision impairments, will particularly benefit from indoor mapping. A person in a wheelchair may need to know the closest elevator. A blind person may need to know where a certain room is located and be instructed directions without the use of a screen.

II. Previous Work

A. OpenStreetMap

The navigation applications that have become most familiar to the common user are those similar to Google Maps and Apple Maps. Most of these companies have begun growing databases of indoor spaces, however, they have proprietary data that prevents further analysis and development [11]. Open-source maps are more favorable for the future of indoor mapping because they allow the spread of the information freely, especially in applications for people with disabilities. Accommodations for disabilities have always lagged behind the rest of industry since there is often less of a financial market for accommodating disabilities.

OpenStreetMap (OSM) is an open-source geographic database and a promising option for providing accessible indoor mapping information for people with disabilities. It also has the advantage of being created by crowdsourcing, allowing the input of many people around the world collaborating with different perspectives and objectives. This open-source, crowdsourced approach allows the flexibility needed to push forward the future of indoor accessibility.

OpenStreetMap has a very simple data model. It consists of 3 data structure elements: nodes, ways, and relations “Fig. 1”. Each of the 3 elements can be associated with key-value pairs, called tags. A node is a single point on the map and a way is a list of nodes, creating lines. A relation is a list of nodes, ways, and tags. This structure is key to the success of the map and provides a great environment for indoor accessibility information.

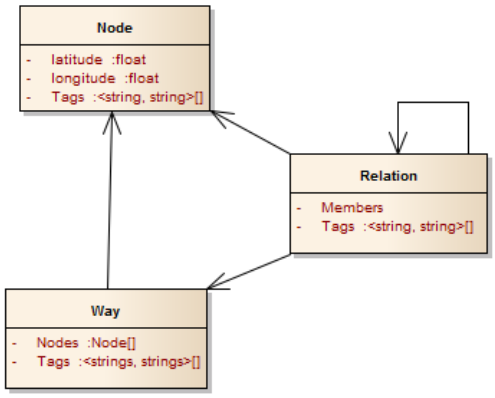

[Figure 1. OpenStreetMap data model elements. https://docs.itinero.tech/docs/osmsharp/osm.html]

B. Indoor mapping in OpenStreetMap

Expressing indoor spaces in a database is a complicated endeavor. There are many of approaches and the science is constantly evolving. Within OSM, there are competing

methodologies, however, the most prominent is a tagging schema called Simple Indoor Tagging (SIT) [12]. Although the use of tags is generally unconstrained, there are conventional use of tags in OSM. SIT tagging is a simplistic approach. There are 5 elements that make up the SIT model: rooms, areas, walls, corridors, and levels "Fig. 2". It is also suggested that the minimum tagging requirement of each building have the lowest level (min_level) and highest level (max_level) [12].

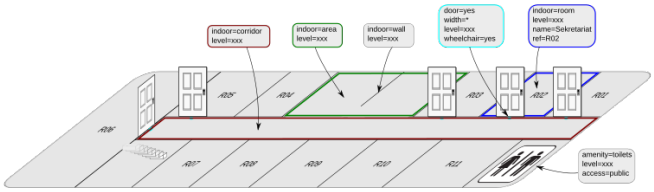

[Figure 2. OSM SIT tagging elements example.
https://wiki.openstreetmap.org/wiki/SimpleIndoorTagging]

C. Wayfinding Applications

Wayfinding applications must communicate directions to the user. The application must know both the current location and how to get to the destination. To do this, applications must utilize information from geospatial databases such as Google Maps, Apple Maps, and OSM.

Some applications are made to accommodate wheelchair accessibility specifically and require special information from a geospatial database such as ramp and elevator locations. Wheelmap is an application created in Berlin Germany which uses the OSM database and is also entirely crowd sourced [5]. Wheelmap identifies places (outdoor or indoor) as one of 3 categories: wheelchair accessible, not wheelchair accessible, or partially wheelchair accessible [15]. OpenSidewalks is an application created at the University of Washington which uses computer vision and neural networks to map outdoor sidewalks [8]. These applications target the needs of wheelchair users specifically because there is such extensive variety of disabilities, and therefore a wide range of accommodations that need to be addressed.

Vision impairments often require more attention to detail while creating geospatial information systems [6]. Wayfinding applications rely on technology to identify its current location such as GPS. However, GPS most often lacks the precision required to identify specifically which room a person is standing within a building. Furthermore, buildings often impede the GPS signals causing a further decrease in accuracy. To overcome this, researchers have investigated Bluetooth beacon technology, which has shown promising results. NavCog is an application created at Carnegie Mellon that is designed specifically for blind or visually impaired navigation by providing auditory guidance [7]. To achieve higher position accuracy, many Bluetooth beacons must be strategically placed throughout a building. A map database must include the location of these beacons as well as precise information describing the floor plans.

CityGuide takes indoor auditory guidance further by providing seamless integration between outdoor and indoor settings, which requires multiple technologies [3]. CityGuide was created by researchers at Wichita State University alongside another project, IBeaconMap, which uses computer vision to collect data from floor plans [2]. IBeaconMap uses the floor plan information to determine appropriate beacon locations, while also generating data to map the indoor spaces with adequate information for wayfinding applications.

AccessibleMaps is an impressive project that is based in Vienna, Austria [10]. AccessibleMaps has made substantial progress in the automation of indoor mapping and enriching the data with accessibility features [4]. This extends SIT tagging in OSM and focuses on the wide variety of disability needs. AccessibleMaps aims to provide highly customizable data for wayfinding applications, whereas each user's experience can be individualized according to their specific disability and accommodation needs.

Creating viewable maps from OSM data is also important for wayfinding applications. Several projects are working on ways to render and view indoor maps, including the accessibility data [19-21]. IndoorEqual is a viewer with a level selector feature shown in Fig. 3. OpenIndoor provides a 3D view of indoor data in OSM "Fig. 4".

[Figure 3. IndoorEqual level selector view of
Grand Central Terminal, New York New York, USA
https://indoorequal.org/ *Accessed Aug. 08, 2020*]

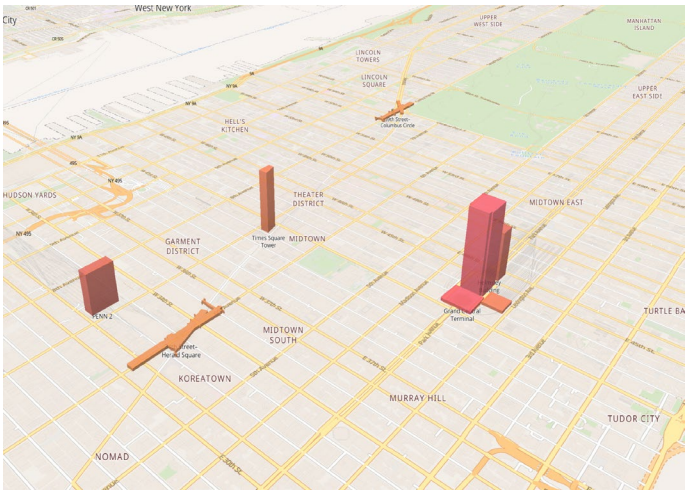

[Figure 4. OpenIndoor 3D view of
Grand Central Terminal, New York New York, USA
https://app.openindoor.io/ *Accessed Aug. 08, 2020*]

III. Methods

Although much progress has been made thanks to the efforts of researchers such as those previously mentioned, there exists a dramatic shortage in data, making indoor wayfinding impractical on a large scale, especially for disability accommodations. This paper will demonstrate the amount of SIT tagging available on OSM and demonstrate its current state.

To access OSM data, an API must be utilized such as Overpass [13]. This is a read-only API which is suitable for analyzing the current contents of OSM. Overpass operates with a query language which is capable of returning several formats of OSM data and is used in the backend of many applications [14]. Overpass is available for LINUX operating systems and can return millions of data elements within minutes. Since the data needed for this paper will not be used to create a map, Overpass Turbo is used for data collection which cannot return as much data elements as Overpass. Overpass Turbo is a web-based frontend application that is suitable for demonstrating the state of indoor mapping in OSM [9].

Information is collected for various cities in USA using Overpass Turbo. The number of elements in a city that contain the tag “building” is collected along with the key-value pair “indoor=yes”. SIT tagging information is collected in each city which provides a better understanding of the status of indoor mapping in OSM for cities in USA. The number of elements with any of the 5 SIT elements is also collected.

Minimal SIT tagging will be considered any building that has values for minimum and maximum levels of the building (min_level & max_level). Complete SIT tagging will be considered any building that has minimum tagging (min_level & max_level) as well as any one of the 4 other elements in the SIT tagging schema [1].

IV. Results & Conclusion

Using Overpass Turbo, data was collected and is displayed in Table 1.

Owever there is a sharp contrast to the amount of

TABLE I
Type Sizes for Papers

City	New York	San Fran	Chicago	Denver	D.C.	Wichita
Elements with "building" tag	1081795	160377	816930	194855	161107	18956
Elements with "indoor = yes" tag	1079	383	389	227	12	0
Elements with any SIT-Tag	607	230	1441	3755	377	32
Buildings (SIT minimal)	21	10	1	1	0	0
Buildings (SIT complete)	2	8	1	1	0	0

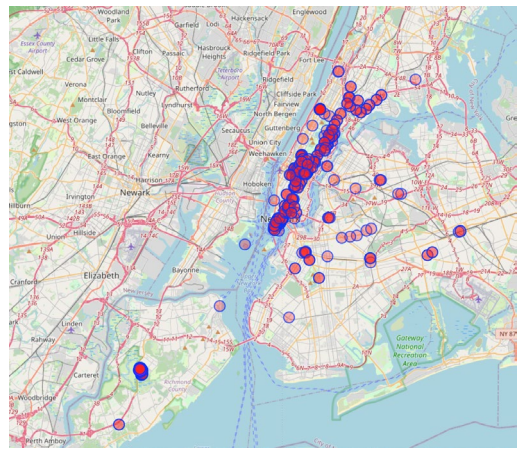

[Figure 5. OpenStreetMap Simple Indoor Tagging data elements
in New York, New York, USA
http://overpass-turbo.eu/ *Accessed Aug. 08, 2020*]

V. Future Work

As OSM is entirely crowdsourced, the future of indoor mapping in OSM depends on a collaborated effort. There are many ways to contribute to the map [17]. OsmInEdit is a notable indoor editor that is based on SIT Tagging [16]. Future work could target the collection of data as well as the methods used to collect data.

Indoor mapping can utilize the existing floor plans of buildings around the globe [22]. There is no data centric format of floor plans that allows a simple translation to a geospatial data model. Computer vision is being utilized to collect and process data to overcome this. OsmInEdit includes the option to import a floor plan to map indoor areas in OSM.

Acknowledgments

This report is part of a research internship with the Computer Research Association, as part of the Distributed Research Experiences for Undergraduates (DREU) program and supported by the National Science Foundation.

References

[1] Striegl, J., Lotisch, C., Schmalfuss-Schwarz, J., Weber, G. (2020). Analysis of Indoor Maps Accounting the Needs of People with Impairments. In: Miesenberger, K., Manduchi, R., Covarrubias Rodriguez, M., Peňáz, P. (eds) Computers Helping People with Special Needs. ICCHP 2020. Lecture Notes in Computer Science(), vol 12377. Springer, Cham. https://doi.org/10.1007/978-3-030-58805-2_36.

[2] Cheraghi, S.A., Namboodiri, V., Sinha, K. (2020). IBeaconMap: Automated Indoor Space Representation for Beacon-Based Wayfinding. In: Miesenberger, K., Manduchi, R., Covarrubias Rodriguez, M., Peňáz, P. (eds) Computers Helping People with Special Needs. ICCHP 2020. Lecture Notes in Computer Science(), vol 12376. Springer, Cham. https://doi.org/10.1007/978-3-030-58796-3_14

[3] Seyed Ali Cheraghi, Ali Almadan, and Vinod Namboodiri. 2019. CityGuide: A Seamless Indoor-Outdoor Wayfinding System for People With Vision Impairments. In The 21st International ACM SIGACCESS Conference on Computers and Accessibility (ASSETS '19). Association for Computing Machinery, New York, NY, USA, 542–544. https://doi.org/10.1145/3308561.3354621

[4] Loitsch, C., Müller, K., Engel, C., Weber, G., Stiefelhagen, R. (2020). AccessibleMaps: Addressing Gaps in Maps for People with Visual and Mobility Impairments. In: Miesenberger, K., Manduchi, R., Covarrubias Rodriguez, M., Peňáz, P. (eds) Computers Helping People with Special Needs. ICCHP 2020. Lecture Notes in Computer Science(), vol 12377. Springer, Cham. https://doi.org/10.1007/978-3-030-58805-2_34

[5] Mobasheri, A., Deister, J. & Dieterich, H. Wheelmap: the wheelchair accessibility crowdsourcing platform. Open geospatial data, softw. stand. 2, 27 (2017). https://doi.org/10.1186/s40965-017-0040-5

[6] Parker, Amy & Swobodzinski, Martin & Wright, Julie & Hansen, Kyrsten & Morton, Becky & Schaller, Elizabeth. (2021). Wayfinding Tools for People With Visual Impairments in Real-World Settings: A Literature Review of Recent Studies. Frontiers in Education. 6. 10.3389/feduc.2021.723816.

[7] Dragan Ahmetovic, Cole Gleason, Kris M. Kitani, Hironobu Takagi, and Chieko Asakawa. 2016. NavCog: turn-by-turn smartphone navigation assistant for people with visual impairments or blindness. In Proceedings of the 13th International Web for All Conference (W4A '16). Association for Computing Machinery, New York, NY, USA, Article 9, https://doi-org.offcampus.lib.washington.edu/10.1145/2899475.2899509

[8] OpenSidewalks. https://www.opensidewalks.com/

[9] Overpass Turbo. https://overpass-turbo.eu/

[10] AccessibleMaps. https://accessiblemaps.de/

[11] Indoor Google Maps. https://www.google.com/maps/about/partners/indoormaps/

[12] Simple Indoor Tagging. https://wiki.openstreetmap.org/wiki/Simple_Indoor_Tagging

[13] Overpass API. https://wiki.openstreetmap.org/wiki/Overpass_API

[14] Overpass Query Language. https://wiki.openstreetmap.org/wiki/Overpass_API/Overpass_QL

[15] Wheelmap. http://www.wheelmap.org/

[16] OsmInEdit. https://osminedit.pavie.info/

[17] Editing OSM. https://wiki.openstreetmap.org/wiki/How_to_contribute

[19] OpenLevelUp. https://openlevelup.net/

[20] IndoorEqual. https://indoorequal.org/

[21] OpenIndoor. https://app.openindoor.io/

[22] Pavie, A. P., Dirks, A. D., Geißelmann, H. G., & Sontag, T. S. (2019, October 21). OsmInEdit - A Simple Indoor Editor [Slides]. https://2019.stateofthemap.org/attachments/VAADJ9_Sontag_Dirks_Geisselmann_Pavie_osminedit.pdf

[6] Acessmap. https://www.accessmap.io/

Bolten, Nicholas & Caspi, Anat. (2019). AccessMap Website Demonstration: Individualized, Accessible Pedestrian Trip Planning at Scale. 676-678. 10.1145/3308561.3354598.

Images of indoor mapping of Wallace Hall at Wichita State University.

Overpass Turbo - OpenStreetMap

Mapping examples

Use Turbo API to query cities in USA.

Query language

Show the different APIs for OpenStreetMap

Wayfinding applications are being developed that use indoor map databases.

GPS at the fingertips of so many people has proven to be invaluable. The individual can accomplish

There is a discourse in the standardization of indoor mapping. As well as evaluation of indoor mapping.

Wayfinding is technology that provides spatial and directional services

Applications for mobility disability navigation require data

The data from these maps must be sufficient to address the needs of people with disabilities.

Identifying the needs of disability accommodations

Mobility disabilities require

Wheelchair and mobility

Wheelmap, acessmap, opensidewalksAccessiblemaps,

Addressing

Wayfinding applications require some electronics to identify locations such as GPS